Property Guard

Your Land, Our Watch

Login

Sign Up

Home Dashboard

Latest Guardian Photo

Today, 2:30 PM



No signs of encroachment detected.

Property Location

Survey No: 235/B

View Details >

Land Value Tracker

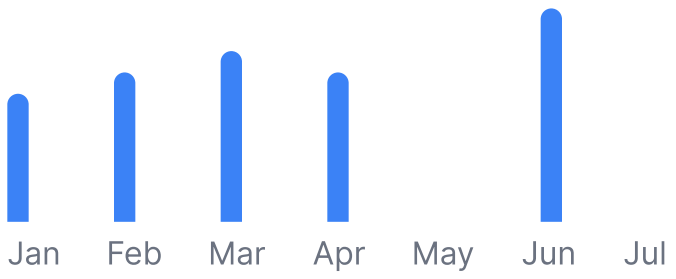

Current Value: $125,000

+4.2%

Notifications

No new encroachment alerts

Property Map

Full Screen



Property Boundaries — Verified

Nearby Properties

North Boundary	Smith Family
East Boundary	State Highway
South Boundary	Jones Property
West Boundary	Natural Creek

Guardian Panel

Upload Photo

Take a photo or upload from gallery

Camera

Gallery

Confirm Location

Location automatically detected

GPS coordinates: 34.052235, -118.243683

Notes

Add any observations about the

Property Details

Edit

Owner Information

Name:	John Doe
Contact:	+1 (555) 123-4567
Email:	john@example.com

Plot Details

Plot Size:	2.5 acres
Survey Number:	235/B
Location:	North County, CA
Purchase Date:	May 15, 2022

Guardian Details

Robert Smith
Active since Jun 2022

Contact:	+1 (555) 987-6543
Visit Frequency:	Weekly

Update History

April 16, 2025 10:30 AM

Regular inspection, all boundaries intact.

April 9, 2025 11:15 AM

South fence needs repair, otherwise secure.

User Profile

Edit

John Doe

Property Owner

Contact | Settings

- Account Details
- Notifications
- Privacy & Security
- Help & Support

Log Out

Document Vault

Upload

Land Deed PDF • 2.3 MB
Uploaded Apr 1, 2025 Verified

Property Survey PDF • 4.7 MB
Uploaded Mar 15, 2025 Verified

Tax Records PDF • 1.1 MB
Uploaded Feb 28, 2025 Verified

Guardian Contract PDF • 0.9 MB
Uploaded Jan 15, 2025 Encrypted